Poverty in States and Metropolitan Areas: 2024

American Community Survey Briefs

By Craig Benson

ACSBR-026
September 2025

INTRODUCTION

Planners, policymakers, and community stakeholders use poverty estimates as key indicators to evaluate trends and current economic conditions within communities and to make comparisons across demographic groups. Federal and state governments often use these estimates to allocate funds to local communities. Government agencies, researchers, and local organizations regularly use these estimates to identify the number of individuals and families eligible for various programs and to measure economic well-being.

This brief uses the 2023 and 2024 American Community Survey (ACS) 1-year estimates to analyze poverty rates for calendar year 2024, as well as the changes in poverty from calendar year 2023 for the nation, states, the District of Columbia, Puerto Rico, and metropolitan statistical areas (MSAs).*,[1]

This brief also discusses the distribution of people by income-to-poverty ratios for the aforementioned geographic areas, measuring the depth of poverty for those with incomes below their poverty threshold and those just above their poverty threshold.[2]

HIGHLIGHTS

- The poverty rate decreased in 13 states and Puerto Rico between 2023 and 2024. The poverty rate increased in one state, North Dakota, and in the District of Columbia, and did not significantly change in 36 states. Poverty rates in states ranged from 7.2 percent to 18.7 percent in 2024.
- In three of the 25 most populous metropolitan areas, the poverty rate significantly declined between 2023 and 2024. The poverty rate decreased in the Atlanta MSA (from 11.0 percent to 10.0 percent), the Riverside-San Bernardino MSA (from 12.1 percent to 11.0 percent), and in the Tampa MSA (from 12.0 percent to 11.0 percent).
- In 2024, 6.0 percent of people nationally had income below 50 percent of their poverty threshold. States ranged from 3.9 percent to 10.3 percent of their population with income below 50 percent of their poverty threshold. Puerto Rico had 17.8 percent of people at this income-to-poverty ratio.

* The U.S. Census Bureau reviewed this data product to ensure appropriate access, use, and disclosure avoidance protection of the confidential source data used to produce this product (Data Management System [DMS] number P-7533841, Disclosure Review Board [DRB] approval number: CBDRB-FY25-0256). All comparative statements have undergone statistical testing and are statistically significant at the 90 percent confidence level, unless otherwise noted.

United States® Census Bureau

U.S. Department of Commerce
U.S. CENSUS BUREAU
census.gov

POVERTY

In 2024, 12.1 percent of the total U.S. population had income below their respective poverty thresholds, a statistically significant decrease from the 2023 estimate of 12.5 percent.[3] The poverty rate declined in 9 of the last 10 years measured since 2013 (estimates for 2020 experimental data are not included). The only increase in the poverty rate was between 2019 and 2021 (Figure 1).[4]

Figure 2 provides the percentage of people in poverty for all states, the District of Columbia, and Puerto Rico.[5] New Hampshire had the lowest 2024 state poverty rate at 7.2 percent, while Louisiana (18.7 percent), Mississippi (17.8 percent), and the District of Columbia (17.3 percent) had among the highest (Appendix Table 1).[6] Eleven states had poverty rates in the lowest map category (less than

Figure 1.
American Community Survey National Poverty Rate: 2005 to 2024
(In percent)

Note: Estimates for 2020 experimental data are not included. For more information, refer to <www.census.gov/programs-surveys/acs/technical-documentation/user-notes/2021-02.html>. Starting in 2006, the American Community Survey includes the group quarters population. The poverty universe excludes children under the age of 15 who are not related to the householder, people living in institutional group quarters (e.g., nursing homes or correctional facilities), and people living in college dormitories or military barracks. Recessions are determined by the National Bureau of Economic Research. For more information, refer to <www.nber.org/cycles.html>. For information on confidentiality protection, sampling error, nonsampling error, and definitions, refer to <www.census.gov/programs-surveys/acs/technical-documentation/code-lists.html>.
Source: U.S. Census Bureau, 2005 to 2019 and 2021 to 2024 American Community Survey 1-year estimates (DMS number P-7533841 and DRB approval number CBDRB-FY25-0256).

10 percent): Colorado, Delaware, Maryland, Massachusetts, Minnesota, New Hampshire, New Jersey, Utah, Vermont, Virginia, and Washington. Alabama, Arkansas, the District of Columbia, Kentucky, Louisiana, Mississippi, New Mexico, West Virginia, and Puerto Rico had poverty rates of 15.0 percent or higher (Figure 2 and Appendix Table 1).

While the national 2024 poverty rate was 12.1 percent, there was variability among census regions, as poverty was not evenly distributed throughout the country.[7] Eight out of the nine states in the Northeast had poverty rates of 12.9 percent or less, and four had poverty rates less than 10.0 percent (the lowest category on the map), whereas nearly one-half of Southern states (six states and the District of Columbia) had poverty rates of 15.0 percent or more. Four other southern states were in the second-highest map category (13.0 percent to 14.9 percent). The West had 12 of its 13 states in the lowest two poverty categories, including three states in the lowest category (Figure 2 and Appendix Table 1).

Figure 2.
Percentage of People in Poverty for the United States and Puerto Rico: 2024

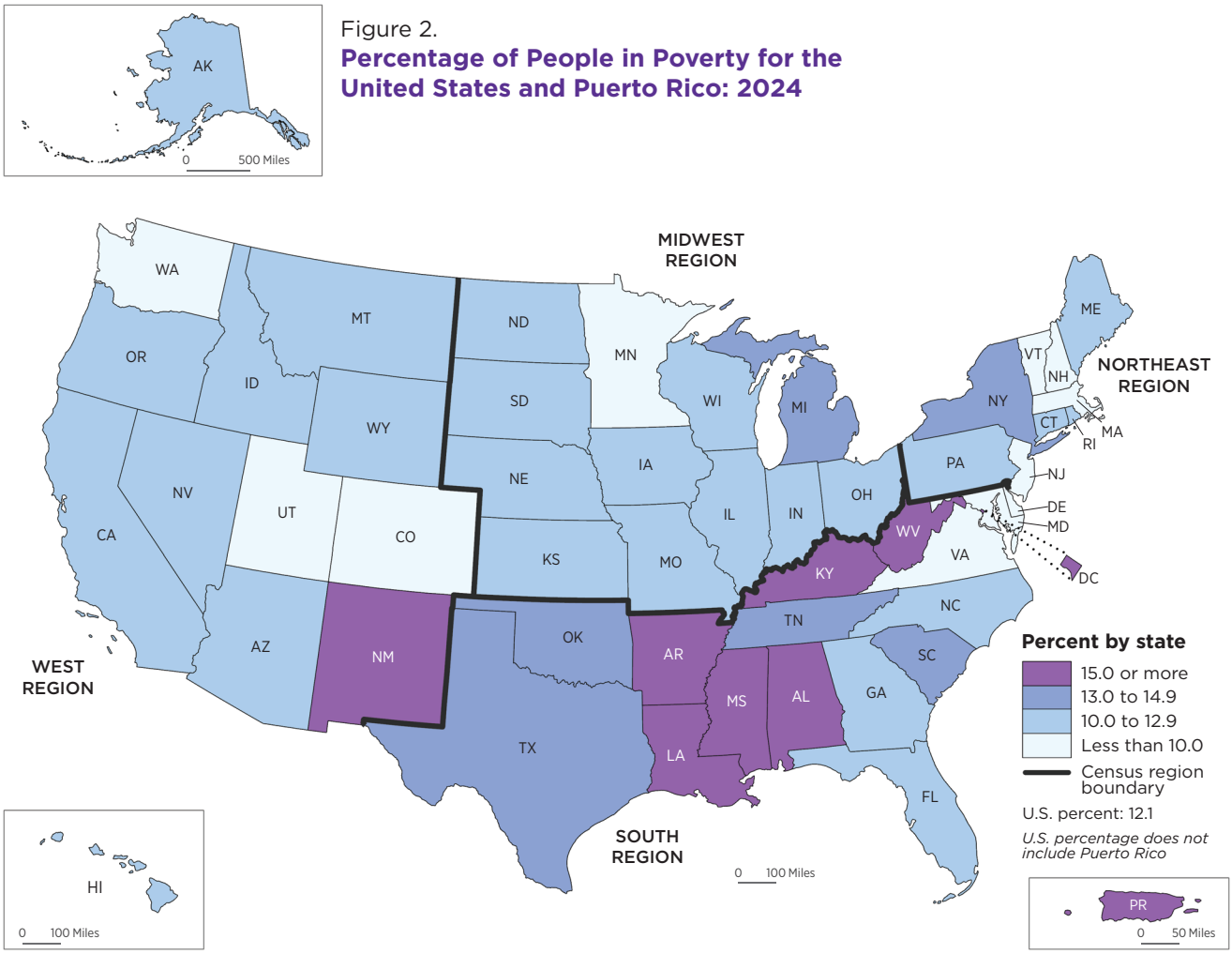

Alaska and Hawaii are in the West Census region.

Note: For more information, visit <www.census.gov/acs>.

Source: U.S. Census Bureau, 2024 American Community Survey 1-year estimates (Data Management System [DMS] number: P-7533841, Disclosure Review Board [DRB] approval number: CBDRB-FY25-0256).

Figure 3 describes the states that had a significant change in poverty rate. Between 2023 and 2024, the poverty rate decreased in 13 states (Arizona, Georgia, Kentucky, Massachusetts, Montana, New Jersey, New Mexico, Ohio, Oklahoma, Pennsylvania, South Dakota, Utah, and Virginia) and Puerto Rico, whereas poverty rates increased in one state (North Dakota) and the District of Columbia (Figure 3 and Appendix Table 1). Poverty rates did not significantly change in 36 states.

POVERTY IN METROPOLITAN AREAS

Figure 4 provides the estimated number and percentage of people in poverty in 2023 and 2024 for the 25 most populous metropolitan areas.[8] The Washington, DC (8.3 percent), Minneapolis (8.3 percent), Denver (8.5 percent), Boston (8.8 percent), and Seattle (8.8 percent) MSAs had among the lowest poverty rates.[9] Conversely, the Houston (14.4 percent) and Detroit (14.1 percent) MSAs had among the highest poverty rates of the 25 most populous metropolitan areas in 2024.[10]

Poverty rates changed significantly in 3 of the 25 most populous metro areas compared to 2023. The poverty rate decreased in

Figure 3.
Change in Percentage of People in Poverty for the United States and Puerto Rico: 2023–2024

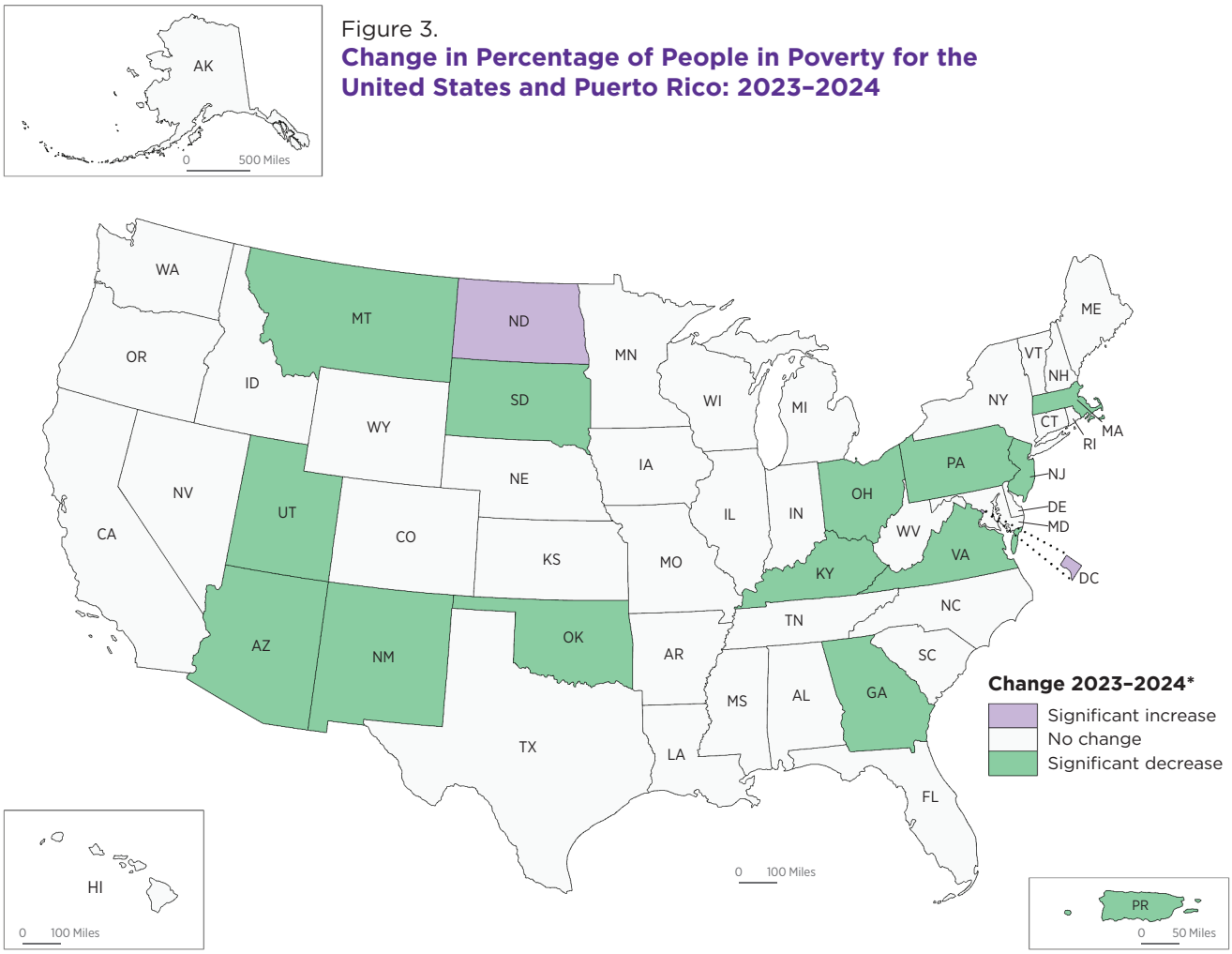

* Change statistically different from zero at the 90 percent confidence level.

Note: For more information, visit <www.census.gov/acs>.

Source: U.S. Census Bureau, 2023 and 2024 American Community Survey 1-year estimates (Data Management System [DMS] number: P-7533841, Disclosure Review Board [DRB] approval number: CBDRB-FY25-0256).

the Riverside-San Bernadino MSA (from 12.1 percent to 11.0 percent), the Atlanta MSA (from 11.0 to 10.0), and the Tampa MSA (from 12.0 to 11.0). For 22 out of the 25 MSAs, including the three most populous metro areas (the New York, Los Angeles, and Chicago MSAs), the poverty rate did not significantly change between 2023 and 2024. The poverty rate for all people living in U.S. metro areas decreased from 12.0 to 11.7 percent between 2023 and 2024.

INCOME-TO-POVERTY RATIOS

The poverty rate is an estimate of the proportion of people with income below 100 percent of their poverty threshold. In addition to this statistic, researchers and policymakers are often interested in the distribution of the population at various levels of poverty. Income-to-poverty ratios provide information on how close a family or individual's income is to their poverty threshold by dividing their income by their poverty

Figure 4.
Percentage of People in Poverty for the 25 Most Populous Metropolitan Areas: 2023 and 2024

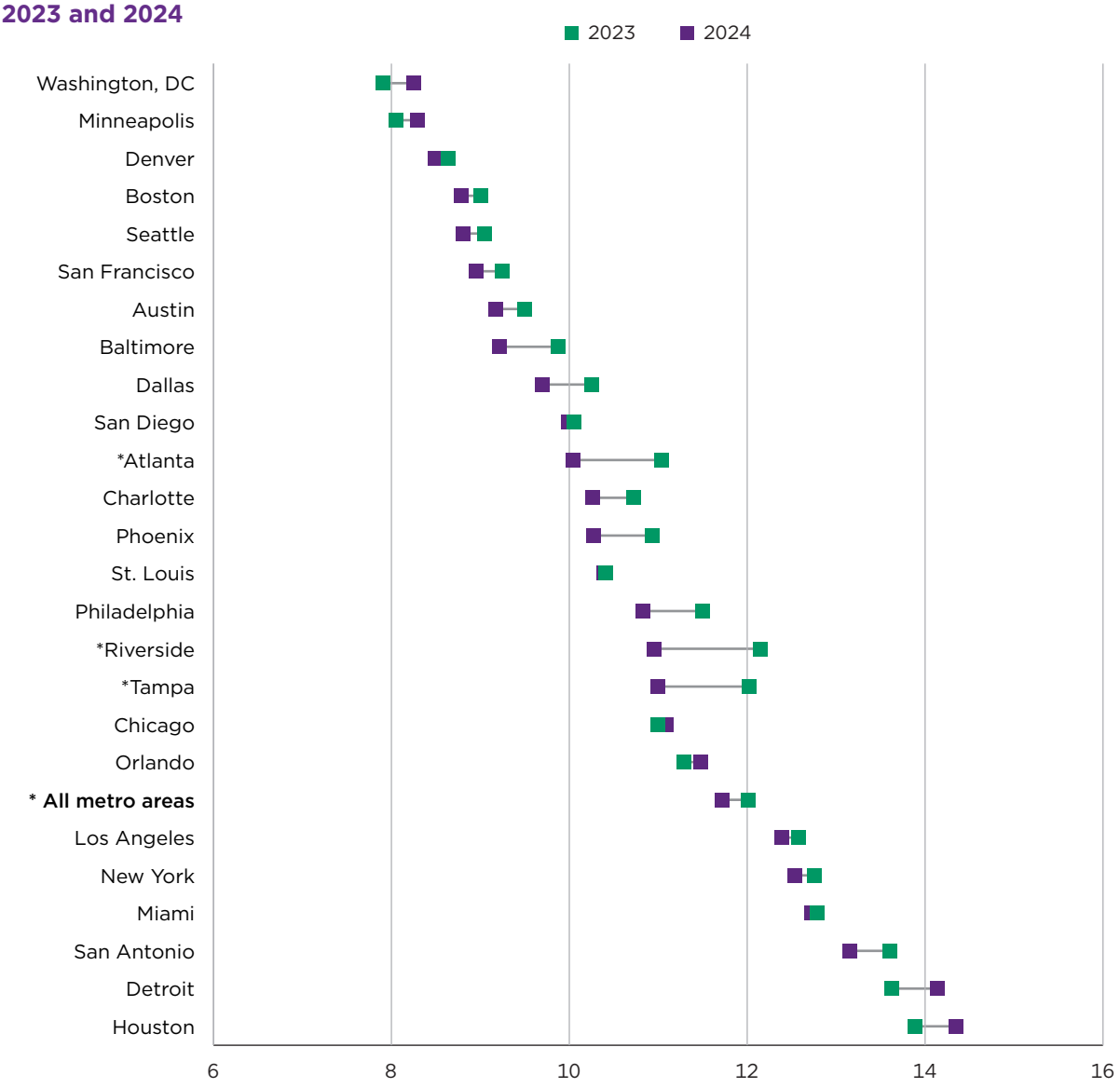

* Change statistically different from zero at the 90 percent confidence level.
Note: For information on confidentiality protection, sampling error, nonsampling error, and definitions, refer to <www.census.gov/programs-surveys.html>.
Source: U.S. Census Bureau, 2023 and 2024 American Community Survey 1-year estimates (DMS number P-7533841 and DRB approval number CBDRB-FY25-0256).

threshold to get a ratio. Ratios below 1.0 indicate that a family falls below poverty, while ratios at or above 1.0 indicate the family has income above their threshold. An income-to-poverty ratio of 0.50 indicates that a family has income equal to 50 percent of their poverty threshold.

Table 1 details the proportion of people at various income-to-poverty ratio ranges in 2024 for the nation, states, the District of Columbia, and Puerto Rico. The share of the U.S. population with income below 50 percent of their poverty threshold was 6.0 percent in 2024 and showed no significant change from 2023 (refer to Appendix Table 3 for 2023 estimates).

New Hampshire (3.9 percent) and Vermont (4.0 percent) were the states with among the lowest proportions of people with an income-to-poverty ratio below 0.50 in 2024.[11] The District of Columbia (10.3 percent) and Louisiana (9.0 percent) had among the highest proportions of people with income-to-poverty ratios below 0.50.[12] In 2024, 17.8 percent of Puerto Rico's population had incomes below 50 percent of their poverty thresholds, a significant decline from 19.6 percent in 2023.

In addition to examining the share of individuals with income below 50 percent of their poverty threshold, Table 1 also provides information on the share of individuals living above their poverty thresholds. People with an income-to-poverty ratio between 1.00 and 1.24 are referred to as being "near poverty" in this brief. In 2024, the percentage of people in the United States in near poverty was 3.5 percent, not significantly different than 2023. In combination with the share below poverty, 15.7 percent of people were either in poverty or near poverty in 2024. This was lower than 2023, when 16.0 percent of people were either in poverty or near poverty.

Among the states, the percentage of individuals near poverty in 2024 ranged from 1.8 percent to 5.1 percent. States with among the lowest percentages of individuals living near poverty included New Hampshire (1.8 percent) and the District of Columbia (1.9 percent).[13] States with among the highest percentages of individuals living near poverty included Arkansas (5.1 percent), Louisiana (4.9 percent), Mississippi (4.9 percent), Kentucky (4.6 percent), New Mexico (4.6 percent), and West Virginia (4.5 percent).[14] The percentage of individuals in near poverty in Puerto Rico was 8.8 percent in 2024.[15]

How Poverty is Measured

Poverty status is determined by comparing annual income to a set of dollar values (called poverty thresholds) that vary by family size, number of children, and the age of the householder. If a family's before-tax money income is less than the dollar value of their threshold, then that family and every individual in it are considered to be in poverty.* For people not living in families, poverty status is determined by comparing individuals' income to their poverty threshold.

The poverty thresholds are updated annually to account for changes in the cost of living using the Consumer Price Index for All Urban Consumers (CPI-U). They do not vary geographically.

Poverty status is determined for individuals in housing units and some noninstitutional group quarters (such as group homes or shelters). The poverty universe excludes children under the age of 15 who are not related to the householder, people living in institutional group quarters (e.g., nursing homes or correctional facilities), and people living in college dormitories or military barracks. Population figures used in this brief reflect this poverty universe.

The American Community Survey (ACS) is a continuous survey, and people respond throughout the year. Since income is reported for the previous 12 months, the appropriate poverty threshold for each family is determined by multiplying the base-year poverty threshold from 1982 by the average of monthly CPI-U values for the 12 months preceding the survey month.

For more information, refer to page 117 of "American Community Survey and Puerto Rico Community Survey 2024 Subject Definitions" at <www.census.gov/programs-surveys/acs/technical-documentation/code-lists.html>. For more information on ACS sample design and other topics, refer to <www.census.gov/acs>.

* Pretax money income refers to gross income received from a variety of sources like like earnings, Social Security, pensions, and disability benefits. It does not include tax credits, like the Earned Income Tax Credit (EITC) or the Child Tax Credit, nor does it include noncash benefits, such as subsidized housing or nutritional assistance programs. More information on how income is measured in the official poverty measure is available at <www.census.gov/topics/income-poverty/poverty/guidance/poverty-measures.html>.

Table 1.
Percentage of People in Each Income-to-Poverty Ratio by State and Puerto Rico: 2024[1]

Area	Less than 0.50	Margin of error (±)[2]	0.50 to 0 .99	Margin of error (±)[2]	1.00 to 1.24	Margin of error (±)[2]	1.25 to 1.49	Margin of error (±)[2]	1.50 to 1.99	Margin of error (±)[2]	2.00 to 3.99	Margin of error (±)[2]	4.00 and over	Margin of error (±)[2]
United States	**6.0**	**Z**	***6.1**	**0.1**	**3.5**	**Z**	***3.7**	**Z**	***8.0**	**0.1**	***29.5**	**0.1**	**^43.1**	**0.1**
Alabama	7.4	0.4	7.8	0.4	4.2	0.3	4.2	0.3	9.3	0.4	*31.3	0.6	^35.7	0.5
Alaska	5.6	0.7	4.6	0.7	3.0	0.5	3.4	0.7	*5.9	0.7	^30.9	1.4	46.6	1.4
Arizona	6.1	0.3	*5.6	0.3	3.5	0.3	3.8	0.3	*7.8	0.4	31.9	0.6	^41.3	0.5
Arkansas	7.4	0.4	8.1	0.5	5.1	0.5	5.1	0.3	10.3	0.5	32.5	0.8	^31.5	0.7
California	5.9	0.1	5.9	0.1	3.4	0.1	3.7	0.1	7.8	0.2	*26.7	0.2	^46.5	0.2
Colorado	^5.3	0.3	4.3	0.3	2.6	0.2	2.9	0.2	*5.9	0.4	27.5	0.7	51.6	0.7
Connecticut	5.2	0.4	5.0	0.4	*2.3	0.3	2.8	0.3	6.2	0.5	24.7	0.7	^53.8	0.9
Delaware	5.3	0.9	*4.3	0.7	^2.9	0.6	2.9	0.7	7.2	0.8	31.6	1.8	45.6	1.8
District of Columbia	^10.3	1.3	7.0	1.4	1.9	0.7	2.8	0.9	4.5	0.9	15.7	1.7	*57.8	1.6
Florida	5.9	0.2	6.1	0.2	3.5	0.1	*3.9	0.2	*8.8	0.2	31.7	0.3	^39.9	0.3
Georgia	*6.2	0.2	*6.3	0.2	*3.6	0.2	*3.8	0.2	8.7	0.3	30.7	0.5	^40.6	0.5
Hawaii	^6.1	0.5	*3.9	0.4	2.5	0.4	2.8	0.5	7.3	0.8	28.2	1.3	49.2	1.4
Idaho	4.6	0.4	5.9	0.5	3.3	0.3	*3.9	0.4	*9.2	0.6	34.9	0.8	^38.2	1.0
Illinois	5.9	0.2	5.7	0.2	^3.3	0.2	3.2	0.2	*7.2	0.2	*28.7	0.5	^46.0	0.4
Indiana	5.9	0.3	6.3	0.3	3.5	0.2	*3.9	0.2	*9.1	0.4	^34.4	0.6	36.9	0.6
Iowa	^5.5	0.4	*5.8	0.4	3.5	0.3	3.7	0.3	8.3	0.4	*32.7	0.6	^40.5	0.6
Kansas	5.1	0.3	5.8	0.4	3.6	0.4	3.9	0.3	8.3	0.5	*32.3	0.8	^41.0	0.8
Kentucky	7.6	0.4	8.0	0.4	4.6	0.3	*4.3	0.3	9.9	0.4	32.4	0.7	33.3	0.6
Louisiana	9.0	0.5	9.7	0.5	4.9	0.4	*4.2	0.3	*9.0	0.4	29.7	0.8	^33.6	0.7
Maine	5.0	0.5	5.6	0.4	3.2	0.3	*3.0	0.4	7.8	0.6	31.7	1.1	^43.8	1.1
Maryland	*4.8	0.3	4.2	0.3	2.2	0.2	3.1	0.3	6.3	0.4	*24.7	0.5	^54.7	0.6
Massachusetts	5.0	0.2	*4.7	0.2	2.6	0.2	*2.4	0.2	5.6	0.3	23.4	0.5	^56.4	0.6
Michigan	6.5	0.2	6.9	0.2	3.6	0.2	3.8	0.2	8.4	0.3	31.2	0.5	^39.5	0.4
Minnesota	4.6	0.3	4.7	0.3	3.0	0.3	3.0	0.2	6.7	0.4	29.2	0.5	48.9	0.5
Mississippi	8.5	0.5	9.3	0.6	*4.9	0.4	5.7	0.4	10.4	0.6	30.7	0.9	^30.4	0.8
Missouri	^5.9	0.3	6.4	0.3	*3.7	0.2	4.0	0.3	*8.5	0.3	33.2	0.5	^38.4	0.6
Montana	*4.7	0.5	5.5	0.4	3.4	0.5	4.1	0.5	8.8	0.8	34.1	1.5	39.4	1.3
Nebraska	5.4	0.4	5.5	0.4	3.5	0.3	3.5	0.4	8.4	0.5	33.7	1.0	40.0	0.9
Nevada	5.8	0.4	5.8	0.6	3.6	0.4	4.2	0.5	9.2	0.6	32.2	1.1	^39.3	0.9
New Hampshire	3.9	0.4	3.3	0.4	1.8	0.3	2.3	0.4	5.5	0.5	27.2	1.1	^56.0	1.3
New Jersey	4.7	0.2	*4.5	0.2	2.7	0.2	2.8	0.2	6.1	0.3	24.6	0.5	54.6	0.5
New Mexico	8.2	0.7	8.3	0.7	4.6	0.4	4.8	0.5	*9.2	0.7	30.4	0.9	^34.6	1.1
New York	7.1	0.2	*6.9	0.2	3.7	0.1	3.6	0.2	*7.0	0.2	25.8	0.3	45.9	0.3
North Carolina	6.3	0.2	6.3	0.2	3.9	0.2	4.0	0.2	8.9	0.3	*30.8	0.5	^39.9	0.5
North Dakota	^5.7	0.7	5.4	0.6	2.9	0.5	2.9	0.6	7.3	0.7	31.6	1.3	44.1	1.5
Ohio	6.4	0.2	*6.3	0.2	3.6	0.2	*3.8	0.2	8.4	0.3	31.7	0.4	^39.8	0.5
Oklahoma	7.2	0.3	*7.8	0.3	4.4	0.3	5.1	0.3	10.1	0.4	32.8	0.6	^32.7	0.6
Oregon	5.9	0.3	5.9	0.3	3.2	0.3	3.8	0.3	7.4	0.4	28.8	0.7	^45.0	0.8
Pennsylvania	*5.6	0.2	6.0	0.2	3.4	0.2	3.6	0.2	*7.6	0.3	*29.5	0.4	^44.3	0.4
Rhode Island	6.4	0.8	5.8	0.9	3.1	0.7	3.1	0.6	7.0	0.9	27.6	1.4	47.0	1.4
South Carolina	6.6	0.3	6.6	0.4	4.0	0.3	*3.9	0.3	8.9	0.3	31.8	0.7	^38.1	0.6
South Dakota	5.2	0.8	*5.2	0.6	*2.8	0.5	*3.1	0.5	8.7	0.9	34.6	1.3	^40.3	1.5
Tennessee	6.4	0.3	7.0	0.4	^4.0	0.3	4.2	0.3	8.9	0.4	32.1	0.6	^37.4	0.5
Texas	6.4	0.2	7.0	0.2	4.1	0.1	4.3	0.1	8.9	0.2	*29.8	0.3	^39.5	0.3
Utah	4.5	0.3	*3.8	0.4	3.0	0.3	2.9	0.3	7.5	0.5	34.2	0.9	^44.1	0.8
Vermont	*4.0	0.6	5.0	0.8	2.6	0.5	3.3	0.5	7.7	0.7	30.7	1.4	46.7	1.5
Virginia	5.1	0.2	4.6	0.2	3.0	0.2	*3.0	0.2	7.1	0.3	27.5	0.5	49.6	0.5
Washington	5.2	0.2	4.8	0.2	2.7	0.2	*2.7	0.2	*6.3	0.3	27.0	0.5	^51.5	0.5
West Virginia	7.6	0.5	9.1	0.7	4.5	0.4	4.7	0.5	*9.4	0.6	33.4	1.0	31.2	1.0
Wisconsin	5.1	0.2	5.2	0.2	3.0	0.2	3.5	0.2	7.7	0.3	32.2	0.5	^43.2	0.5
Wyoming	5.1	0.7	5.0	0.9	3.9	0.7	3.5	0.7	9.1	1.0	33.4	2.0	40.0	1.8
Puerto Rico	*17.8	0.7	19.6	0.8	8.8	0.6	7.8	0.5	12.9	0.6	23.3	0.9	9.9	0.5

* Indicates significant decrease from 2023. Statistically different from 2023 estimate at the 90 percent confidence level.

^ Indicates significant increase from 2023. Statistically different from 2023 estimate at the 90 percent confidence level.

Z Rounds to zero.

[1] Poverty status is determined for individuals in housing units and noninstitutional group quarters. The poverty universe excludes children under the age of 15 who are not related to the householder, people living in institutional group quarters (e.g., nursing homes or correctional facilities), and people living in college dormitories or military barracks. People and families are classified as being in poverty if their income is less than their poverty threshold. If their income is less than one-half of their poverty threshold, they are below .50 of poverty; less than the threshold itself, they are in poverty (below 100 percent of poverty); less than 1.25 times the threshold, below 125 percent of poverty, and so on.

[2] Data are based on a sample and are subject to sampling variability. A margin of error is a measure of an estimate's variability. The larger the margin of error in relation to the size of the estimate, the less reliable the estimate. This number, when added to or subtracted from the estimate, forms the 90 percent confidence interval.

Note: For information on confidentialty protection, sampling error, nonsampling error, and definitions, refer to <www.census.gov/programs-surveys/acs/technical-documentation/code-lists.html>.

Source: U.S. Census Bureau, 2024 American Community Survey 1-year estimates (DMS number P-7533841 and DRB approval number CBDRB-FY25-0256).

Table 2 describes the percentage of people at various income-to-poverty ratio categories for the 25 most populous metropolitan areas in 2024. In 2024, the Minneapolis (4.3 percent), Washington, DC (4.4 percent), San Francisco (4.5 percent), Seattle (4.6 percent), Boston (4.7 percent), Dallas (4.7 percent), Denver (4.7 percent), and Baltimore (4.8 percent) MSAs had among the lowest percentages of people with income-to-poverty ratios below 0.50.[16] The Detroit (6.9 percent), Houston (6.9 percent), and San Antonio (6.5 percent) MSAs all had among the highest shares of people with income-to-poverty ratios below 0.50.[17]

Table 2 also exhibits the share of individuals with income near poverty thresholds among the 25 most populous metropolitan areas in 2024. Near poverty rates in metro areas ranged from 2.0 percent to 4.2 percent. The Denver (2.0 percent), Washington, DC (2.0 percent), Boston (2.2 percent), Seattle (2.2 percent), Baltimore (2.3 percent), and San Francisco (2.3 percent) MSAs had among the lowest percentages of people in near poverty, whereas the Houston (4.2 percent), Riverside-San Bernardino (3.9 percent), and San Antonio (3.8 percent) MSAs had among the highest percentage of people in near poverty.[18, 19, 20]

Table 2.
Percentage of People in Each Income-to-Poverty Ratio by the 25 Most Populous Metropolitan Areas: 2024[1]

Metro area	Less than 0.50	Margin of error (±)[2]	0.50 to 0.99	Margin of error (±)[2]	1.00 to 1.24	Margin of error (±)[2]	1.25 to 1.49	Margin of error (±)[2]	1.50 to 1.99	Margin of error (±)[2]	2.00 to 3.99	Margin of error (±)[2]	4.00 and over	Margin of error (±)[2]
Atlanta-Sandy Springs-Roswell, GA	5.1	0.3	*4.9	0.3	2.9	0.2	*3.2	0.2	7.6	0.4	29.1	0.7	^47.1	0.6
Austin-Round Rock-San Marcos, TX	5.2	0.5	3.9	0.5	2.4	0.4	3.1	0.5	6.6	0.7	24.9	1.1	^53.7	1.0
Baltimore-Columbia-Towson, MD	*4.8	0.5	4.4	0.4	2.3	0.3	2.8	0.4	6.7	0.7	*24.7	0.9	54.3	1.0
Boston-Cambridge-Newton, MA-NH	4.7	0.3	4.1	0.3	2.2	0.2	*2.2	0.2	4.9	0.3	21.5	0.6	60.4	0.7
Charlotte-Concord-Gastonia, NC-SC	5.4	0.5	4.9	0.4	3.4	0.4	3.4	0.4	8.2	0.6	29.4	1.0	45.3	0.9
Chicago-Naperville-Elgin, IL-IN	5.6	0.2	5.5	0.3	3.0	0.2	3.0	0.2	6.9	0.3	27.5	0.6	^48.5	0.5
Dallas-Fort Worth-Arlington, TX	4.7	0.3	5.1	0.3	3.5	0.3	3.7	0.3	8.0	0.4	*29.1	0.7	^45.9	0.6
Denver-Aurora-Centennial, CO	4.7	0.4	3.8	0.4	2.0	0.3	2.5	0.4	5.0	0.4	25.2	1.0	56.8	1.0
Detroit-Warren-Dearborn, MI	^6.9	0.3	7.2	0.4	3.3	0.3	3.6	0.3	7.8	0.5	28.5	0.7	42.6	0.6
Houston-Pasadena-The Woodlands, TX	6.9	0.4	7.4	0.4	^4.2	0.3	4.3	0.3	8.6	0.5	*27.9	0.6	40.6	0.6
Los Angeles-Long Beach-Anaheim, CA	6.1	0.2	*6.3	0.2	3.6	0.2	3.8	0.2	8.2	0.3	*27.3	0.4	^44.7	0.5
Miami-Fort Lauderdale-West Palm Beach, FL	5.9	0.3	6.8	0.3	3.7	0.3	*3.9	0.3	8.9	0.4	31.1	0.7	39.6	0.7
Minneapolis-St. Paul-Bloomington, MN-WI	4.3	0.3	4.0	0.4	2.8	0.4	2.8	0.3	5.7	0.4	26.8	0.6	53.6	0.7
New York-Newark-Jersey City, NY-NJ	6.3	0.2	*6.2	0.2	3.3	0.1	3.3	0.2	6.5	0.2	23.6	0.4	50.7	0.4
Orlando-Kissimmee-Sanford, FL	5.8	0.5	5.7	0.7	*3.0	0.4	4.3	0.7	9.8	0.8	32.7	1.1	38.9	1.0
Philadelphia-Camden-Wilmington, PA-NJ-DE-MD	5.4	0.3	*5.5	0.4	3.1	0.3	3.0	0.2	6.6	0.4	25.8	0.6	^50.7	0.6
Phoenix-Mesa-Chandler, AZ	5.6	0.3	4.6	0.4	*2.7	0.3	3.6	0.3	*7.2	0.4	31.7	0.7	^44.5	0.7
Riverside-San Bernardino-Ontario, CA	5.5	0.4	*5.5	0.4	3.9	0.4	4.6	0.4	9.6	0.5	*32.2	0.9	^38.8	0.9
St. Louis, MO-IL	5.0	0.4	5.4	0.5	2.8	0.3	3.2	0.4	6.9	0.4	*29.3	0.8	47.5	0.8
San Antonio-New Braunfels, TX	6.5	0.5	*6.6	0.6	3.8	0.4	4.3	0.5	9.1	0.8	31.7	1.2	^37.9	1.1
San Diego-Chula Vista-Carlsbad, CA	5.3	0.4	4.7	0.4	3.0	0.4	*2.9	0.3	*6.3	0.5	26.0	0.9	51.8	0.9
San Francisco-Oakland-Fremont, CA	*4.5	0.2	4.5	0.4	2.3	0.2	2.4	0.2	5.1	0.4	*19.1	0.6	^62.1	0.6
Seattle-Tacoma-Bellevue, WA	4.6	0.3	4.2	0.4	2.2	0.2	2.1	0.2	5.1	0.4	23.1	0.7	58.7	0.8
Tampa-St. Petersburg-Clearwater, FL	5.7	0.4	*5.3	0.5	3.5	0.4	3.7	0.5	8.1	0.5	30.8	0.9	^42.8	0.9
Washington-Arlington-Alexandria, DC-VA-MD-WV	4.4	0.3	3.8	0.3	2.0	0.2	2.7	0.3	5.0	0.3	21.0	0.6	61.1	0.6

* Indicates a significant decrease. Statistically different from 2023 estimate at the 90 percent confidence level.

^ Indicates a significant increase. Statistically different from 2023 estimate at the 90 percent confidence level.

[1] Poverty status is determined for individuals in housing units and noninstitutional group quarters. The poverty universe excludes children under the age of 15 who are not related to the householder, people living in institutional group quarters (e.g., nursing homes or correctional facilities), and people living in college dormitories or military barracks. People and families are classified as being in poverty if their income is less than their poverty threshold. If their income is less than one-half of their poverty threshold, they are below .50 of poverty; less than the threshold itself, they are in poverty (below 100 percent of poverty); less than 1.25 times the threshold, below 125 percent of poverty, and so on.

[2] Data are based on a sample and are subject to sampling variability. A margin of error is a measure of an estimate's variability. The larger the margin of error in relation to the size of the estimate, the less reliable the estimate. This number, when added to or subtracted from the estimate, forms the 90 percent confidence interval.

Note: For information on confidentiality protection, sampling error, nonsampling error, and definitions, refer to <www.census.gov/programs-surveys/acs/technical-documentation/code-lists.html>.

Source: U.S. Census Bureau, 2024 American Community Survey 1-year estimates (DMS number P-7533841 and DRB approval number CBDRB-FY25-0256).

SUMMARY

This brief used the 2023 and 2024 American Community Survey 1-year estimates to analyze poverty rates for calendar year 2024, as well as changes in poverty rates from calendar year 2023, for the nation, states, the District of Columbia, Puerto Rico, and metro areas.

The national poverty rate decreased in 2024 from 12.5 percent to 12.1 percent. This decline is part of a longer trend that has seen poverty rates decline in 9 out of the last 10 years since 2013 (2020 1-year experimental year estimates were excluded).[21] Poverty rates decreased in 13 states and Puerto Rico and increased in North Dakota and the District of Columbia. The poverty rate did not change significantly in 36 states. It also did not change significantly in 22 of the 25 most populous metropolitan areas from 2023. Poverty rates decreased in three MSAs compared to 2023.

The percentage of the U.S. population with incomes below 50 percent of their poverty threshold was 6.0 percent in 2024, showing no statistically significant change from 2023. States and the District of Columbia ranged from 3.9 percent to 10.3 percent of population in this category. The 25 most populous MSAs ranged from 4.3 percent to 6.9 percent.

This brief also examined the proportion of people slightly above their poverty thresholds. In 2024, the percentage of people nationally with an income-to-poverty ratio between 1.00 and 1.24 was 3.5 percent, not significantly different from 2023; states ranged from 1.8 percent to 5.1 percent. Among the 25 most populous metro areas, there was a range of 2.0 percent to 4.2 percent of people living in near poverty.

What Is the American Community Survey?

The American Community Survey (ACS) is a nationwide survey designed to provide communities with reliable and timely demographic, social, economic, and housing data for the nation, states, congressional districts, counties, places, and other localities every year. It has an annual sample size of about 3.5 million addresses across the United States and Puerto Rico and includes both housing units and group quarters (e.g., nursing facilities and prisons).[22] The ACS is conducted in every county throughout the nation and every municipio in Puerto Rico, where it is called the Puerto Rico Community Survey. Beginning in 2006, ACS data have been released annually for geographic areas with populations of 65,000 and greater. For information on the ACS sample design and other topics, visit <www.census.gov/programs-surveys/acs>.

SOURCE AND ACCURACY

The data presented in this brief are based on the ACS sample interviewed from January 2023 through December 2023 (2023 ACS) and the ACS sample interviewed from January 2024 through December 2024 (2024 ACS). The estimates based on these samples describe the average values of person, household, and housing unit characteristics over this period of collection. Due to the implementation of the Vintage 2024 population estimates, comparisons of the estimated change in number of people between 2023 and 2024 reflect both demographic change and updates to the methodology. Statistically significant differences presented in this report may be the result of methodological differences and thus might not necessarily reflect changes to the social, economic, housing, or demographic characteristics being compared. For more information, reference Comparing ACS Data at <www.census.gov/programs-surveys/acs/guidance/comparing-acs-data.html>.

Sampling error is the uncertainty between an estimate based on a sample and the corresponding value that would be obtained if the estimate were based on the entire population (as from a census). Measures of sampling error are provided in the form of margins of error for all estimates included in this brief. All comparative statements in this brief have undergone statistical testing, and comparisons are significant at the 90 percent confidence level unless otherwise noted.

In addition to sampling error, nonsampling error may be introduced during any of the operations used to collect and process survey data such as editing, reviewing, or keying data from questionnaires. For more information on sampling and estimation methods, confidentiality protection, and sampling and nonsampling errors, refer to the 2024 ACS Accuracy of the Data document available at <www.census.gov/programs-surveys/acs/technical-documentation/code-lists.html>.

NOTES

ACS data from 2010 forward are available at <https://data.census.gov>. Historical estimates of state poverty rates prior to 2010 can be found in Appendix Table 1 of the brief "Poverty: 2016 and 2017," available at <www.census.gov/library/publications/2018/acs/acsbr17-02.html>.

The Census Bureau also publishes poverty estimates based on the Current Population Survey Annual Social and Economic Supplement (CPS ASEC), the Survey of Income and Program Participation (SIPP), and Small Area Income and Poverty Estimates (SAIPE). For information on poverty estimates from the ACS and how they differ from those based on the CPS ASEC, SIPP, and SAIPE, refer to the information and survey comparisons at <www.census.gov/topics/income-poverty/poverty/guidance/data-sources.html>.

ENDNOTES

[1] Metropolitan statistical areas (also referred to as MSAs or metro areas) are geographic entities delineated by the Office of Management and Budget (OMB) for use by federal statistical agencies in collecting, tabulating, and publishing federal statistics. A metro area contains a core urban area with a population of 50,000 or more individuals. For more information, refer to <www.census.gov/programs-surveys/metro-micro/about/omb-standards.html>.

[2] The data collection period for the 2023 ACS spanned January to December 2023; the data collection period for the 2024 ACS spanned January to December 2024.

[3] Following the standard specified by OMB in Statistical Policy Directive 14, data from the Current Population Survey Annual Social Economic Supplement are used to estimate the official national poverty rate that can be found in the report "Poverty in the United States: 2024," available at <www.census.gov/content/dam/Census/library/publications/2025/demo/p60-287.html>. The national poverty percentage does not include data for Puerto Rico.

[4] The U.S. poverty rate increased from 2019 to 2021. Estimates for 2021 were compared to 2019, the last previous year with consistent weighting methodologies. For additional information on the 2020 experimental data, refer to <www.census.gov/programs-surveys/acs/data/experimental-data.html>.

[5] The classification categories used in Figure 2 have been determined by the natural breaks (Jenks) method of categorization. For more information on data classification methods, refer to <https://pro.arcgis.com/en/pro-app/latest/help/mapping/layer-properties/data-classification-methods.htm>.

[6] The 2024 poverty rates for Louisiana (18.7 percent), Mississippi (17.8 percent), and the District of Columbia (17.3 percent) were not statistically different.

[7] Census regions are groupings of states and the District of Columbia that divide the United States for the presentation of Census Bureau data. For more information, refer to <https://www2.census.gov/geo/pdfs/maps-data/maps/reference/us_regdiv.pdf>.

[8] The 25 most populous metropolitan areas in 2024 had a slightly different composition compared to 2023. In 2024, Austin-Round Rock-San Marcus, TX, became one of the top 25 of metro area populations, replacing Portland-Vancouver-Hillsboro, OR-WA.

[9] The 2024 poverty rates for the Washington, DC (8.3 percent), Minneapolis (8.3 percent), Denver (8.5 percent), Boston (8.8 percent), and Seattle (8.8 percent) MSAs were not statistically different.

[10] The 2024 poverty rates for the Houston (14.4 percent) and Detroit (14.1 percent) MSAs were not statistically different.

[11] In 2024, the percentages of people with an income-to-poverty ratio below 50 percent in New Hampshire (3.9 percent) and Vermont (4.0 percent) were not statistically different.

[12] In 2024, the percentages of people with an income-to-poverty ratio below 50 percent in the District of Columbia (10.3 percent) and Louisiana (9.0 percent) were not statistically different.

[13] In 2024, the percentages of people in near poverty in New Hampshire (1.8 percent) and the District of Columbia (1.9 percent) were not significantly different.

[14] In 2024, the percentages of people in near poverty in Arkansas (5.1 percent), Louisiana (4.9 percent), Mississippi (4.9 percent), Kentucky (4.6 percent), New Mexico (4.6 percent), and West Virginia (4.5 percent) were not statistically different.

[15] Refer to Appendix Table 3 for 2023 estimates.

[16] In 2024, the percentages of people with an income-to-poverty ratio below 0.50 in the Minneapolis (4.3 percent), Washington, DC (4.4 percent), San Francisco (4.5 percent), Seattle (4.6 percent), Boston (4.7 percent), Dallas (4.7 percent), Denver (4.7 percent), and Baltimore (4.8 percent) MSAs were not statistically different.

[17] In 2024, the percentages of people with an income-to-poverty ratio below 0.50 in the Detroit (6.9 percent), Houston (6.9 percent), and San Antonio (6.5 percent) MSAs were not statistically different.

[18] In 2024, the percentages of people in near poverty in the Denver (2.0 percent), Washington, DC (2.0 percent), Boston (2.2 percent), Seattle (2.2 percent), Baltimore (2.3 percent), and San Francisco (2.3 percent) MSAs were not statistically different.

[19] In 2024, the percentages of people in near poverty in the Houston (4.2 percent), Riverside-San Bernardino (3.9 percent), and San Antonio (3.8 percent) MSAs were not statistically different.

[20] Refer to Appendix Table 4 for 2023 estimates.

[21] For more information on the 2020 experimental data, refer to <www.census.gov/programs-surveys/acs/technical-documentation/user-notes/2021-02.html>.

[22] While people living in group quarters are sampled in the ACS, those living in institutional group quarters (e.g., nursing homes or correctional facilities) are not included in the poverty universe.

Appendix Table 1.

Number and Percentage of People in Poverty by State and Puerto Rico: 2023 and 2024[1]

Area	Below poverty in 2023				Below poverty in 2024[2]				Change in poverty (2024 less 2023)	
	Number	Margin of error (±)[3]	Percent	Margin of error (±)[3]	Number	Margin of error (±)[3]	Percent	Margin of error (±)[3]	Percent	Margin of error (±)[3]
United States	**40,763,043**	**277,214**	**12.5**	**0.1**	**40,354,267**	**248,561**	**12.1**	**0.1**	***–0.3**	**0.1**
Alabama	773,166	24,550	15.6	0.5	760,634	23,122	15.2	0.5	–0.4	0.7
Alaska	74,353	5,930	10.4	0.8	73,398	6,760	10.2	0.9	–0.2	1.2
Arizona	905,418	32,734	12.4	0.4	866,882	31,738	11.7	0.4	*–0.8	0.6
Arkansas	466,624	19,172	15.7	0.6	466,459	18,623	15.5	0.6	–0.1	0.9
California	4,588,687	71,646	12.0	0.2	4,567,967	68,831	11.8	0.2	–0.2	0.3
Colorado	536,507	22,964	9.3	0.4	560,040	25,707	9.6	0.4	0.3	0.6
Connecticut	362,024	17,748	10.3	0.5	364,217	19,612	10.2	0.6	–0.1	0.7
Delaware	106,027	10,289	10.5	1.0	98,553	11,530	9.6	1.1	–0.9	1.5
District of Columbia	91,068	10,115	14.0	1.6	116,544	11,376	17.3	1.7	*3.3	2.3
Florida	2,729,519	62,129	12.3	0.3	2,758,614	58,688	12.0	0.3	–0.3	0.4
Georgia	1,461,317	38,018	13.6	0.4	1,373,284	36,640	12.6	0.3	*–1.0	0.5
Hawaii	141,925	10,218	10.1	0.7	140,840	9,649	10.0	0.7	–0.2	1.0
Idaho	193,635	12,891	10.1	0.7	204,268	13,558	10.5	0.7	0.4	1.0
Illinois	1,426,517	30,335	11.6	0.2	1,438,470	31,443	11.6	0.3	0.0	0.4
Indiana	821,401	24,875	12.3	0.4	823,667	25,971	12.2	0.4	–0.1	0.5
Iowa	351,224	14,199	11.3	0.5	356,404	12,911	11.3	0.4	0.0	0.6
Kansas	319,652	14,831	11.2	0.5	313,235	15,633	10.9	0.5	–0.3	0.8
Kentucky	720,642	20,801	16.4	0.5	694,171	23,771	15.6	0.5	*–0.8	0.7
Louisiana	840,146	27,162	18.9	0.6	835,267	28,512	18.7	0.6	–0.2	0.9
Maine	140,460	8,588	10.4	0.6	144,428	7,531	10.6	0.6	0.2	0.8
Maryland	574,160	20,592	9.5	0.3	555,770	25,230	9.1	0.4	–0.4	0.5
Massachusetts	706,730	24,578	10.4	0.4	671,003	22,818	9.7	0.3	*–0.7	0.5
Michigan	1,326,740	27,989	13.5	0.3	1,334,859	27,543	13.4	0.3	–0.1	0.4
Minnesota	520,602	17,281	9.3	0.3	529,398	20,956	9.3	0.4	0.1	0.5
Mississippi	512,184	21,949	18.0	0.8	507,719	23,283	17.8	0.8	–0.2	1.1
Missouri	720,210	24,684	12.0	0.4	745,363	25,704	12.3	0.4	0.3	0.6
Montana	129,804	7,386	11.7	0.7	113,684	7,954	10.2	0.7	*–1.5	1.0
Nebraska	202,078	12,736	10.5	0.7	212,793	11,375	10.9	0.6	0.4	0.9
Nevada	377,506	20,633	12.0	0.7	374,033	23,623	11.6	0.7	–0.4	1.0
New Hampshire	97,935	8,712	7.2	0.6	98,596	7,844	7.2	0.6	0.0	0.9
New Jersey	886,772	27,839	9.7	0.3	859,029	29,158	9.2	0.3	*–0.5	0.4
New Mexico	368,669	18,140	17.8	0.9	343,235	18,877	16.4	0.9	*–1.3	1.3
New York	2,702,955	50,606	14.2	0.3	2,704,799	50,713	14.0	0.3	–0.2	0.4
North Carolina	1,349,302	38,975	12.8	0.4	1,349,479	29,119	12.5	0.3	–0.2	0.5
North Dakota	73,841	5,342	9.8	0.7	85,442	6,937	11.1	0.9	*1.3	1.1
Ohio	1,527,904	36,156	13.3	0.3	1,467,983	33,353	12.7	0.3	*–0.6	0.4
Oklahoma	626,185	15,929	15.9	0.4	592,663	16,809	14.9	0.4	*–1.0	0.6
Oregon	506,544	17,185	12.2	0.4	493,796	19,583	11.8	0.5	–0.4	0.6
Pennsylvania	1,500,959	35,821	12.0	0.3	1,464,236	33,897	11.6	0.3	*–0.4	0.4
Rhode Island	114,412	10,758	10.8	1.0	130,333	11,261	12.2	1.0	1.3	1.5
South Carolina	726,799	24,733	13.9	0.5	707,939	25,914	13.3	0.5	–0.6	0.7
South Dakota	104,684	8,555	11.8	1.0	93,272	7,375	10.4	0.8	*–1.3	1.3
Tennessee	978,460	30,784	14.0	0.4	951,389	29,075	13.5	0.4	–0.6	0.6
Texas	4,086,851	75,298	13.7	0.3	4,108,899	76,334	13.4	0.2	–0.3	0.4
Utah	304,249	15,931	9.0	0.5	286,572	15,014	8.3	0.4	*–0.7	0.6

Footnotes available at end of table.

Appendix Table 1.

Number and Percentage of People in Poverty by State and Puerto Rico: 2023 and 2024[1]—Con.

Area	Below poverty in 2023				Below poverty in 2024[2]				Change in poverty (2024 less 2023)	
	Number	Margin of error (±)[3]	Percent	Margin of error (±)[3]	Number	Margin of error (±)[3]	Percent	Margin of error (±)[3]	Percent	Margin of error (±)[3]
Vermont	60,413	4,904	9.7	0.8	56,348	5,276	9.0	0.8	–0.7	1.2
Virginia	864,394	26,897	10.2	0.3	835,556	26,795	9.7	0.3	*–0.5	0.4
Washington	794,426	26,113	10.3	0.3	776,683	22,218	9.9	0.3	–0.4	0.4
West Virginia	285,780	11,676	16.7	0.7	286,737	12,801	16.7	0.7	0.1	1.0
Wisconsin	616,874	19,150	10.7	0.3	601,246	19,433	10.3	0.3	–0.3	0.5
Wyoming	64,309	6,371	11.3	1.1	58,071	6,805	10.1	1.2	–1.2	1.6
Puerto Rico	1,257,607	26,856	39.6	0.8	1,184,965	30,230	37.3	1.0	*–2.3	1.3

* Statistically different from zero at the 90 percent confidence level.

[1] Poverty status is determined for individuals in housing units and noninstitutional group quarters. The poverty universe excludes children under the age of 15 who are not related to the householder, people living in institutional group quarters (e.g., nursing homes or correctional facilities), and people living in college dormitories or military barracks. People and families are classified as being in poverty if their income is less than their poverty threshold. If their income is less than one-half of their poverty threshold, they are below .50 of poverty; less than the threshold itself, they are in poverty (below 100 percent of poverty); less than 1.25 times the threshold, below 125 percent of poverty, and so on.

[2] Due to the implementation of the Vintage 2024 population estimates, comparisons of the estimated change in number of people between 2023 and 2024 reflect both demographic change and methodological updates and are therefore not shown in this table.

[3] Data are based on a sample and are subject to sampling variability. A margin of error is a measure of an estimate's variability. The larger the margin of error in relation to the size of the estimate, the less reliable the estimate. This number, when added to or subtracted from the estimate, forms the 90 percent confidence interval.

Note: For information on confidentiality protection, sampling error, nonsampling error, and definitions refer to <www.census.gov/programs-surveys/acs/technical-documentation/code-lists.html>.

Source: U.S. Census Bureau, 2023 and 2024 American Community Survey 1-year estimates (DMS number P-7533841 and DRB approval number CBDRB-FY25-0256).

Appendix Table 2.

Number and Percentage of People in Poverty by 25 Most Populous Metropolitan Areas: 2023 and 2024[1]

Metro area	Below poverty in 2023				Below poverty in 2024[2]				Change in poverty (2024 less 2023)	
	Number	Margin of error (±)[3]	Percent	Margin of error (±)[3]	Number	Margin of error (±)[3]	Percent	Margin of error (±)[3]	Percent	Margin of error (±)[3]
Atlanta-Sandy Springs-Roswell, GA	685,932	25,211	11.0	0.4	633,704	25,657	10.0	0.4	*–1.0	0.6
Austin-Round Rock-San Marcos, TX	229,871	16,755	9.5	0.7	229,736	16,932	9.2	0.7	–0.3	1.0
Baltimore-Columbia-Towson, MD	273,463	13,307	9.9	0.5	257,321	15,257	9.2	0.5	–0.7	0.7
Boston-Cambridge-Newton, MA-NH	429,171	19,754	9.0	0.4	427,347	19,328	8.8	0.4	–0.2	0.6
Charlotte-Concord-Gastonia, NC-SC	296,565	17,340	10.7	0.6	291,615	17,302	10.3	0.6	–0.5	0.9
Chicago-Naperville-Elgin, IL-IN	1,001,327	31,097	11.0	0.3	1,026,828	23,643	11.1	0.3	0.1	0.4
Dallas-Fort Worth-Arlington, TX	820,098	31,468	10.3	0.4	799,450	35,505	9.7	0.4	–0.5	0.6
Denver-Aurora-Centennial, CO	256,971	16,510	8.6	0.6	256,162	16,899	8.5	0.6	–0.1	0.8
Detroit-Warren-Dearborn, MI	585,806	20,466	13.6	0.5	616,000	20,938	14.1	0.5	0.5	0.7
Houston-Pasadena-The Woodlands, TX	1,030,129	34,863	13.9	0.5	1,105,434	41,219	14.3	0.5	0.5	0.7
Los Angeles-Long Beach-Anaheim, CA	1,585,798	38,842	12.6	0.3	1,577,387	37,640	12.4	0.3	–0.2	0.4
Miami-Fort Lauderdale-West Palm Beach, FL	779,844	28,795	12.8	0.5	810,781	25,412	12.7	0.4	–0.1	0.6
Minneapolis-St. Paul-Bloomington, MN-WI	294,062	13,805	8.1	0.4	306,303	18,012	8.3	0.5	0.2	0.6
New York-Newark-Jersey City, NY-NJ	2,446,378	48,131	12.8	0.3	2,457,925	48,416	12.5	0.2	–0.2	0.4
Orlando-Kissimmee-Sanford, FL	312,208	19,215	11.3	0.7	331,553	22,774	11.5	0.8	0.2	1.1
Philadelphia-Camden-Wilmington, PA-NJ-DE-MD	700,710	31,247	11.5	0.5	668,882	28,431	10.8	0.5	–0.7	0.7
Phoenix-Mesa-Chandler, AZ	544,729	23,259	10.9	0.5	523,232	24,193	10.3	0.5	–0.7	0.7
Riverside-San Bernardino-Ontario, CA	560,827	25,513	12.1	0.6	511,081	23,690	10.9	0.5	*–1.2	0.8
St. Louis, MO-IL	284,371	17,777	10.4	0.6	285,467	16,704	10.4	0.6	0.0	0.9
San Antonio-New Braunfels, TX	361,458	22,498	13.6	0.8	356,233	19,511	13.1	0.7	–0.5	1.1
San Diego-Chula Vista-Carlsbad, CA	318,653	16,712	10.1	0.5	320,137	19,219	10.0	0.6	–0.1	0.8
San Francisco-Oakland-Fremont, CA	416,535	15,644	9.2	0.3	410,458	18,415	9.0	0.4	–0.3	0.5
Seattle-Tacoma-Bellevue, WA	360,070	19,998	9.0	0.5	359,681	19,274	8.8	0.5	–0.2	0.7
Tampa-St. Petersburg-Clearwater, FL	394,732	20,339	12.0	0.6	370,361	20,547	11.0	0.6	*–1.0	0.9
Washington-Arlington-Alexandria, DC-VA-MD-WV	490,595	22,757	7.9	0.4	523,048	23,764	8.3	0.4	0.3	0.5

* Statistically different from zero at the 90 percent confidence level.

[1] Poverty status is determined for individuals in housing units and noninstitutional group quarters. The poverty universe excludes children under the age of 15 who are not related to the householder, people living in institutional group quarters (e.g., nursing homes or correctional facilities), and people living in college dormitories or military barracks. People and families are classified as being in poverty if their income is less than their poverty threshold. If their income is less than one-half of their poverty threshold, they are below .50 of poverty; less than the threshold itself, they are in poverty (below 100 percent of poverty); less than 1.25 times the threshold, below 125 percent of poverty, and so on.

[2] Due to the implementation of the Vintage 2024 population estimates, comparisons of the estimated change in number of people between 2023 and 2024 reflect both demographic change and methodological updates and are therefore not shown in this table.

[3] Data are based on a sample and are subject to sampling variability. A margin of error is a measure of an estimate's variability. The larger the margin of error in relation to the size of the estimate, the less reliable the estimate. This number, when added to or subtracted from the estimate, forms the 90 percent confidence interval.

Note: For information on confidentiality protection, sampling error, nonsampling error, and definitions, refer to <www.census.gov/programs-surveys/acs/technical-documentation/code-lists.html>.

Source: U.S. Census Bureau, 2023 and 2024 American Community Survey 1-year estimates (DMS number P-7533841 and DRB approval number CBDRB-FY25-0256).

Appendix Table 3.

Percentage of People in Each Income-to-Poverty Ratio by State and Puerto Rico: 2023[1]

Area	Less than 0.50	Margin of error (±)[2]	0.50 to 0.99	Margin of error (±)[2]	1.00 to 1.24	Margin of error (±)[2]	1.25 to 1.49	Margin of error (±)[2]	1.50 to 1.99	Margin of error (±)[2]	2.00 to 3.99	Margin of error (±)[2]	4.00 and over	Margin of error (±)[2]
United States	**6.1**	**0.1**	**6.4**	**0.1**	**3.6**	**Z**	**3.9**	**Z**	**8.3**	**0.1**	**29.9**	**0.1**	**41.9**	**0.1**
Alabama	7.3	0.4	8.3	0.4	4.6	0.3	4.4	0.3	9.7	0.4	32.2	0.6	33.6	0.6
Alaska	5.0	0.6	5.4	0.7	3.3	0.7	3.8	0.7	7.5	0.9	27.6	1.3	47.4	1.5
Arizona	6.4	0.3	6.1	0.3	3.7	0.3	4.0	0.3	8.5	0.4	31.4	0.7	39.8	0.6
Arkansas	7.4	0.5	8.2	0.5	5.2	0.4	5.2	0.4	10.8	0.5	33.0	0.8	30.1	0.8
California	5.9	0.1	6.1	0.2	3.5	0.1	3.8	0.1	8.0	0.1	27.5	0.3	45.2	0.3
Colorado	4.8	0.3	4.5	0.3	2.5	0.2	3.1	0.2	6.5	0.4	27.9	0.6	50.7	0.6
Connecticut	5.3	0.4	4.9	0.4	2.8	0.3	3.2	0.3	6.5	0.4	24.6	0.8	52.6	0.7
Delaware	4.9	0.6	5.7	0.8	2.2	0.4	3.5	0.6	7.9	1.0	30.4	1.6	45.5	1.5
District of Columbia	8.2	1.1	5.9	1.2	2.1	0.7	2.4	0.7	3.3	0.9	17.6	1.7	60.6	2.3
Florida	5.9	0.2	6.4	0.2	3.7	0.1	4.3	0.2	9.2	0.2	32.1	0.4	38.4	0.4
Georgia	6.7	0.3	6.9	0.3	3.9	0.2	4.2	0.2	8.7	0.3	30.5	0.5	39.1	0.4
Hawaii	5.1	0.5	5.1	0.5	2.9	0.4	2.9	0.4	6.5	0.7	29.8	1.1	47.8	1.2
Idaho	4.4	0.4	5.7	0.6	3.5	0.4	4.6	0.4	10.6	0.7	34.7	1.1	36.6	0.9
Illinois	6.0	0.2	5.7	0.2	3.0	0.2	3.4	0.2	7.8	0.3	29.5	0.5	44.7	0.5
Indiana	6.1	0.3	6.3	0.3	3.7	0.2	4.2	0.2	9.8	0.4	33.5	0.6	36.5	0.5
Iowa	4.8	0.3	6.5	0.4	3.3	0.3	3.7	0.3	8.8	0.4	33.7	0.7	39.1	0.7
Kansas	5.3	0.4	5.9	0.4	3.6	0.4	4.3	0.3	8.9	0.4	33.9	0.8	38.1	0.8
Kentucky	8.0	0.3	8.4	0.4	4.7	0.3	4.7	0.3	9.8	0.5	31.8	0.7	32.6	0.6
Louisiana	8.9	0.5	10.0	0.5	4.6	0.4	4.7	0.3	9.9	0.5	30.3	0.8	31.7	0.6
Maine	4.8	0.5	5.5	0.4	3.5	0.5	3.9	0.5	8.6	0.6	32.4	1.0	41.2	1.1
Maryland	5.4	0.3	4.1	0.2	2.5	0.2	3.1	0.2	6.0	0.3	25.5	0.6	53.3	0.6
Massachusetts	5.1	0.3	5.4	0.3	2.6	0.2	2.9	0.2	5.5	0.2	23.2	0.5	55.4	0.6
Michigan	6.5	0.2	7.0	0.3	3.4	0.2	4.0	0.2	8.4	0.3	31.9	0.4	38.7	0.4
Minnesota	4.3	0.2	5.0	0.3	2.9	0.3	3.1	0.2	6.8	0.3	29.8	0.4	48.2	0.4
Mississippi	8.1	0.5	9.9	0.6	5.8	0.4	5.4	0.5	10.7	0.6	32.0	1.0	28.1	0.9
Missouri	5.4	0.2	6.5	0.3	4.0	0.2	4.3	0.3	9.1	0.3	33.3	0.5	37.4	0.5
Montana	5.6	0.5	6.1	0.6	3.7	0.4	4.2	0.5	8.6	0.6	34.0	1.1	37.9	1.1
Nebraska	4.8	0.4	5.7	0.5	3.3	0.4	3.9	0.4	8.8	0.6	33.7	0.9	39.9	0.8
Nevada	6.2	0.4	5.7	0.5	4.0	0.4	4.3	0.4	9.4	0.6	32.5	1.0	37.9	0.8
New Hampshire	3.8	0.6	3.4	0.4	2.1	0.4	2.7	0.4	5.6	0.5	28.1	1.1	54.3	1.2
New Jersey	4.7	0.2	5.0	0.2	2.7	0.2	3.0	0.2	6.3	0.3	24.3	0.5	54.0	0.4
New Mexico	8.8	0.7	9.0	0.6	5.0	0.5	5.2	0.5	10.2	0.7	30.4	0.9	31.4	0.8
New York	7.0	0.2	7.2	0.2	3.6	0.2	3.7	0.2	7.4	0.2	25.6	0.4	45.5	0.3
North Carolina	6.2	0.3	6.6	0.3	4.0	0.2	4.1	0.2	9.2	0.3	31.6	0.4	38.4	0.4
North Dakota	4.5	0.5	5.3	0.6	2.6	0.5	2.9	0.5	7.5	0.8	31.5	1.3	45.7	1.5
Ohio	6.4	0.2	6.9	0.3	3.5	0.2	4.1	0.2	8.6	0.3	32.0	0.4	38.5	0.4
Oklahoma	7.5	0.3	8.4	0.3	4.6	0.2	5.2	0.3	9.8	0.4	33.1	0.6	31.5	0.5
Oregon	6.2	0.3	6.0	0.3	3.5	0.3	3.7	0.3	7.6	0.4	29.7	0.6	43.2	0.7
Pennsylvania	5.9	0.2	6.0	0.2	3.5	0.2	3.7	0.2	8.0	0.3	30.4	0.4	42.4	0.4
Rhode Island	5.3	0.7	5.6	0.8	2.7	0.5	4.1	0.9	7.5	1.1	26.7	1.5	48.2	1.5
South Carolina	6.8	0.3	7.1	0.4	4.0	0.3	4.5	0.3	9.4	0.5	32.0	0.7	36.2	0.6
South Dakota	5.1	0.6	6.7	0.8	3.8	0.4	4.2	0.7	9.4	0.9	33.5	1.4	37.4	1.3
Tennessee	6.6	0.3	7.5	0.3	3.6	0.3	4.3	0.3	9.3	0.4	32.4	0.6	36.3	0.6
Texas	6.5	0.2	7.2	0.2	4.1	0.2	4.4	0.2	9.1	0.2	30.8	0.3	38.0	0.3
Utah	4.4	0.3	4.6	0.4	2.6	0.3	3.2	0.3	8.0	0.5	35.3	0.8	41.8	0.8
Vermont	5.0	0.5	4.7	0.6	2.8	0.5	3.2	0.5	6.8	0.8	29.7	1.3	47.9	1.3
Virginia	5.3	0.3	4.9	0.2	2.9	0.2	3.3	0.2	7.4	0.3	26.8	0.5	49.4	0.5
Washington	5.3	0.2	5.1	0.2	2.5	0.2	3.2	0.2	6.8	0.2	27.4	0.4	49.8	0.5
West Virginia	7.4	0.5	9.3	0.5	4.4	0.5	4.5	0.4	10.5	0.7	33.7	0.9	30.2	0.9
Wisconsin	5.1	0.2	5.5	0.3	3.1	0.2	3.8	0.2	7.5	0.2	32.5	0.5	42.4	0.5
Wyoming	5.3	0.7	6.0	0.9	3.3	0.7	4.1	0.8	9.1	1.0	34.4	1.8	37.8	1.8
Puerto Rico	19.6	0.8	20.0	0.6	9.0	0.5	7.6	0.5	12.1	0.5	22.2	0.8	9.6	0.5

Z Rounds to zero.

[1] Poverty status is determined for individuals in housing units and noninstitutional group quarters. The poverty universe excludes children under the age of 15 who are not related to the householder, people living in institutional group quarters (e.g., nursing homes or correctional facilities), and people living in college dormitories or military barracks. People and families are classified as being in poverty if their income is less than their poverty threshold. If their income is less than one-half of their poverty threshold, they are below .50 of poverty; less than the threshold itself, they are in poverty (below 100 percent of poverty); less than 1.25 times the threshold, below 125 percent of poverty, and so on.

[2] Data are based on a sample and are subject to sampling variability. A margin of error is a measure of an estimate's variability. The larger the margin of error in relation to the size of the estimate, the less reliable the estimate. This number, when added to or subtracted from the estimate, forms the 90 percent confidence interval.

Note: For information on confidentialty protection, sampling error, nonsampling error, and definitions, refer to <www.census.gov/programs-surveys/acs/technical-documentation/code-lists.html>.

Source: U.S. Census Bureau, 2023 American Community Survey 1-year estimates (DMS number P-7533841 and DRB approval number CBDRB-FY25-0256).

Appendix Table 4.

Percentage of People in Each Income-to-Poverty Ratio by the 25 Most Populous Metropolitan Areas: 2023[1]

Metro area	Less than 0.50	Margin of error (±)[2]	0.50 to 0.99	Margin of error (±)[2]	1.00 to 1.24	Margin of error (±)[2]	1.25 to 1.49	Margin of error (±)[2]	1.50 to 1.99	Margin of error (±)[2]	2.00 to 3.99	Margin of error (±)[2]	4.00 and over	Margin of error (±)[2]
Atlanta-Sandy Springs-Roswell, GA	5.5	0.3	5.6	0.3	3.3	0.3	3.8	0.3	7.7	0.4	28.9	0.7	45.2	0.6
Baltimore-Columbia-Towson, MD	5.6	0.4	4.2	0.3	2.5	0.4	2.7	0.3	6.2	0.6	26.1	1.0	52.7	0.9
Boston-Cambridge-Newton, MA-NH	4.5	0.3	4.5	0.3	2.4	0.2	2.7	0.3	5.1	0.3	21.0	0.6	59.9	0.8
Charlotte-Concord-Gastonia, NC-SC	5.4	0.5	5.3	0.5	3.3	0.4	3.1	0.4	8.1	0.7	30.6	1.0	44.2	1.0
Chicago-Naperville-Elgin, IL-IN	5.7	0.3	5.3	0.3	2.8	0.2	3.2	0.2	7.2	0.3	28.2	0.5	47.6	0.5
Dallas-Fort Worth-Arlington, TX	4.9	0.3	5.4	0.3	3.5	0.3	3.8	0.3	7.8	0.4	30.7	0.6	43.9	0.6
Denver-Aurora-Centennial, CO	4.4	0.4	4.2	0.4	1.9	0.3	2.6	0.3	5.2	0.5	26.0	0.8	55.6	0.9
Detroit-Warren-Dearborn, MI	6.4	0.3	7.2	0.4	3.3	0.3	3.7	0.3	7.7	0.4	29.4	0.9	42.3	0.7
Houston-Pasadena-The Woodlands, TX	6.5	0.3	7.4	0.4	3.8	0.2	4.1	0.3	9.1	0.4	29.3	0.6	39.8	0.5
Los Angeles-Long Beach-Anaheim, CA	5.9	0.2	6.7	0.2	3.8	0.2	4.0	0.2	8.1	0.2	28.2	0.4	43.4	0.5
Miami-Fort Lauderdale-West Palm Beach, FL	5.9	0.3	6.9	0.4	3.7	0.3	4.6	0.4	9.2	0.5	30.9	0.7	38.8	0.6
Minneapolis-St. Paul-Bloomington, MN-WI	3.9	0.3	4.1	0.3	2.5	0.3	2.6	0.2	5.8	0.4	27.1	0.6	53.9	0.6
New York-Newark-Jersey City, NY-NJ	6.2	0.2	6.6	0.2	3.3	0.2	3.4	0.2	6.7	0.2	23.3	0.4	50.5	0.3
Orlando-Kissimmee-Sanford, FL	5.4	0.5	5.9	0.6	3.8	0.5	4.3	0.5	10.0	0.8	32.5	1.3	38.2	1.0
Philadelphia-Camden-Wilmington, PA-NJ-DE-MD	5.5	0.3	6.0	0.4	3.3	0.3	3.0	0.3	6.6	0.4	26.2	0.6	49.3	0.6
Phoenix-Mesa-Chandler, AZ	5.9	0.4	5.1	0.3	3.4	0.3	3.5	0.4	8.0	0.5	30.9	0.9	43.3	0.8
Portland-Vancouver-Hillsboro, OR-WA	4.8	0.3	4.4	0.4	2.8	0.4	3.2	0.4	6.9	0.6	27.5	0.9	50.4	1.0
Riverside-San Bernardino-Ontario, CA	5.6	0.4	6.5	0.4	3.6	0.3	4.3	0.4	9.8	0.5	33.6	0.7	36.5	0.6
St. Louis, MO-IL	4.8	0.4	5.6	0.5	3.0	0.4	3.0	0.4	6.7	0.5	30.6	0.9	46.3	0.9
San Antonio-New Braunfels, TX	6.1	0.6	7.5	0.6	4.3	0.6	4.6	0.6	9.3	0.7	31.7	1.2	36.4	1.0
San Diego-Chula Vista-Carlsbad, CA	4.9	0.3	5.2	0.4	2.8	0.3	3.4	0.4	7.1	0.5	25.2	0.8	51.5	0.9
San Francisco-Oakland-Fremont, CA	5.0	0.3	4.2	0.3	2.4	0.3	2.7	0.3	5.1	0.3	20.1	0.7	60.5	0.8
Seattle-Tacoma-Bellevue, WA	4.8	0.3	4.2	0.4	1.9	0.2	2.4	0.3	5.4	0.4	23.4	0.7	57.9	0.9
Tampa-St. Petersburg-Clearwater, FL	6.1	0.4	5.9	0.4	3.6	0.4	4.1	0.4	8.6	0.6	31.6	0.8	40.1	0.9
Washington-Arlington-Alexandria, DC-VA-MD-WV	4.3	0.3	3.6	0.3	2.0	0.2	2.7	0.2	5.0	0.3	21.1	0.5	61.3	0.7

[1] Poverty status is determined for individuals in housing units and noninstitutional group quarters. The poverty universe excludes children under the age of 15 who are not related to the householder, people living in institutional group quarters (e.g., nursing homes or correctional facilities), and people living in college dormitories or military barracks. People and families are classified as being in poverty if their income is less than their poverty threshold. If their income is less than one-half of their poverty threshold, they are below .50 of poverty; less than the threshold itself, they are in poverty (below 100 percent of poverty); less than 1.25 times the threshold, below 125 percent of poverty, and so on.

[2] Data are based on a sample and are subject to sampling variability. A margin of error is a measure of an estimate's variability. The larger the margin of error in relation to the size of the estimate, the less reliable the estimate. This number, when added to or subtracted from the estimate, forms the 90 percent confidence interval.

Note: For information on confidentiality protection, sampling error, nonsampling error, and definitions, refer to <www.census.gov/programs-surveys/acs/technical-documentation/code-lists.html>.

Source: U.S. Census Bureau, 2023 American Community Survey 1-year estimates (DMS number P-7533841 and DRB approval number CBDRB-FY25-0256).